A Real-Time Research Project

Report on

POTHOLE AND SPEED BREAKER DETECTION AND ALERT SYSTEM

Submitted in partial fulfillment of the requirements for the award of the degree of

Bachelor of Technology

in

CSE (ARTIFICIAL INTELLIGENCE & MACHINE LEARNING)

By

M.Snehitha	[247R1A66G5]
M.SriramReddy	[247R1A66G6]
S. Arun	[247R1A66J4]
B. Laxman	[257R5A6616]

Under the guidance of

B. Swaroopa Rani

Assistant Professor

Department of CSE(AI&ML)

DEPARTMENT OF COMPUTER SCIENCE AND ENGINEERING (AI & ML)

CMR TECHNICAL CAMPUS

UGC AUTONOMOU

Accredited by NBA & NAAC with 'A' Grade

Approved by AICTE, New Delhi and JNTU Hyderabad

Kandlakoya(V), Medchal Road, Hyderabad – 501401 April, 2026

DEPARTMENT OF COMPUTER SCIENCE AND ENGINEERING (AI&ML)

CERTIFICATE

This is to certify that the Real-Time Research Project Report entitled " **POTHOLE AND SPEED BREAKER DETECTION AND ALERT SYSTEM:A smart road monitoring system that identifies road irregularities and alerts drivers "**being submitted by **M.Snehitha [247R1A66G5],M. SriramReddy [247R1A66G6],S. Arun [247R1A66J7] , B. Laxman [257R5A6616]**in partial fulfillment of the requirements for the award of the degree of Bachelor of Technology in COMPUTER SCIENCE AND ENGINEERING (AI & ML) to the Jawaharlal Nehru Technological University, Hyderabad is a record of Bonafide work carried out by them under my guidance and supervision during the Academic Year 2025 – 26.

The results embodied in this report have not been submitted to any other University or Institute for the award of any other degree.

B. Swaroopa Rani
Assistant Professor
Department of CSE(AI&ML)
Project Guide

Dr. S Rao Chintalapudi
Head of the Department

ACKNOWLEDGEMENT

Apart from the efforts of us, the success of any project depends largely on the encouragement and guidelines of many others. We take this opportunity to express our gratitude to the people who have been instrumental in the successful completion of this project.

We take this opportunity to express my profound gratitude and deep regard to my guide. **B. Swaroopa Rani** Assistant Professor Department of CSE(AI&ML), for his exemplary guidance, monitoring and constant encouragement throughout the project work. The blessing, help and guidance given by him shall carry us a long way in the journey of life on which we are about to embark.

We are also thankful to **Dr. S Rao Chintalapudi**, Head, Department of Computer Science and Engineering (AI&ML) for providing encouragement and support for completing this project successfully.

We are obliged **to Dr. A. Raji Reddy**, Director for being cooperative throughout the course of this project. We also express our sincere gratitude to Sri. **Ch. Gopal Reddy**, Chairman for providing excellent infrastructure and a nice atmosphere throughout the course of this project.

The guidance and support received from all the members of **CMR Technical Campus** who contributed to the completion of the project. We are grateful for their constant support and help. Finally, we would like to take this opportunity to thank our family for their constant encouragement, without which this assignment would not be completed. We sincerely acknowledge and thank all those who gave support directly and indirectly in the completion of this project.

M.SNEHITHA [247R1A66G5]
M.SRIRAM REDDY [247R1A66G6]
S.ARUN [247R1A66J4]
B.LAXMAN [247R1A66G5]

ABSTRACT

This project focuses on the design and development of an **IoT based pothole and speed breaker detection system** using an ESP32 microcontroller. The system continuously monitors road surface conditions using ultrasonic sensors to identify sudden height and depth variations. Bluetooth communication enables remote control of the robotic platform through a mobile application. Upon detecting a pothole or speed breaker, the system activates a buzzer and sends alert information to the mobile device that helps to reduce the accident risks. The robot is controlled through Bluetooth using a mobile application, allowing the user to move it remotely. Ultrasonic sensors are used to continuously monitor the road surface and detect sudden depth variations such as potholes and height changes like speed breakers. When a pothole or speed breaker is detected, the system automatically activates a buzzer to alert the driver and simultaneously sends alert information to the mobile phone via Bluetooth. This system helps in early detection of road hazards and improves safety by providing timely warnings.

LIST OF FIGURES

S. No	Figure Name	Page No
Figure 4.2	Proposed Methodology	11
Figure 4.3.1	Class Diagram for pathole & speedbreaker detection	12
Figure 4.3.2	Use Case Diagram for pathole & speedbreaker detection	13
Figure 4.3.3	Component Diagram for pathole & speedbreaker detection	14
Figure 4.3.4	Sequence Diagram for pathole & speedbreaker detection	15
Figure 4.3.5	Activity Diagram for pathole & speedbreaker detection	16
Figure 7.1.1	Top View	34
Figure 7.1.2	Pathole detection	34
Figure 7.1.3	Side View	35

Table of Contents

Chapter Title	Page No
Abstract	iv
List of Figures	v
1. Introduction	
1.1 Motivation1	
1.2 Problem Statement	1
1.3 Project Objective	1
2. Literature Survey	
2.1 Sensor-Based Road Surface Detection Systems	3
2.2 Ultrasonic Sensor Applications in Obstacle and Depth Measurement	3
2.3 ESP32-Based Embedded Systems for Real-Time Processing	4
2.4 Real-Time Alert and Warning Mechanisms in Safety Systems	4
2.5 Wireless Communication (Bluetooth/Wi-Fi) in Embedded Systems	5
2.6 Robotic Platforms for Road Condition Monitoring	5
2.7 Challenges in Sensor-Based Road Hazard Detection Systems	5
2.8 Summary of Existing Systems and Research Gap	6
3. Requirement Specification	
3.1 Software Requirements	7
3.2 Hardware Requirements	7
3.3 Functional Requirements	8
3.4 Non-Functional Requirements	8
4. System Design	
4.1 System Design	9
4.2 Proposed Methodology	11
4.3 UML Design	12

4.3.1 Class Diagram 12

4.3.2 Use Case Diagram 13
4.3.3 Component Diagram 14
4.3.4 Sequence Diagram 15
4.3.5 Activity Diagram 16
4.4 Technology Description 17
5. Implementation
5.1 Implementation 18
5.2 Modules 18
5.3 Executable Code 19
6. Testing
6.1 Testing Definition 25
6.2 Test Cases 28
7. Results 34
8. Conclusion 36
9. Future Scope 37
10. References 38

1.INTRODUCTION

1.1 MOTIVATION

Road safety is a major concern in many developing and developed regions due to poor road conditions such as potholes and unmarked speed breakers. These irregularities often lead to accidents, vehicle damage, and discomfort for drivers. Traditional methods of identifying and reporting such hazards are slow, manual, and inefficient, resulting in delayed maintenance and increased risks for road users.

To address this problem, the **Pothole and Speed Breaker Detection and Alert System** is designed as an intelligent solution that automatically detects road anomalies in real time. The system uses sensors such as accelerometers and ultrasonic sensors, along with GPS technology, to identify potholes and speed breakers based on sudden changes in vehicle motion or distance measurements.

1.2 PROBLEM STATEMENT

Poor road conditions, particularly potholes and unmarked or poorly designed speed breakers, pose a serious threat to road safety and vehicle performance. These road irregularities often go unnoticed until it is too late, leading to accidents, vehicle damage, increased maintenance costs, and discomfort for drivers and passengers. In many areas, especially in developing regions, there is no efficient real-time system to detect and warn drivers about such hazards in advance.

Existing methods for identifying road damage rely heavily on manual inspection and public reporting, which are time-consuming, unreliable, and lack accuracy. As a result, authorities face delays in repairing damaged roads, and drivers remain unaware of potential dangers on their route.

1.3 PROJECT OBJECTIVE

The main objective of the Pothole and Speed Breaker Detection and Alert System is to improve road safety and driving comfort by detecting road irregularities and providing timely alerts to drivers.

The specific objectives of this project are:

- To design and develop a system that can automatically detect potholes and speed breakers using sensors such as accelerometers and ultrasonic sensors.
- To provide real-time alerts to drivers so they can take necessary precautions and avoid accidents or vehicle damage.
- To accurately capture and store the location (GPS data) of detected road hazards.
- To create a system that can share collected data with authorities for faster road maintenance and repair.
- To reduce accidents, vehicle wear and tear, and passenger discomfort caused by poor road conditions.
- To develop a cost-effective and efficient solution that can be easily implemented in vehicles.
- To contribute to the development of smart transportation systems and safer road infrastructure.

2. LITERATURE SURVEY

Various methods have been developed to detect potholes and speed breakers using modern technologies. Many systems use accelerometers to identify road irregularities based on vehicle vibrations, while others use ultrasonic sensors to measure road surface variations. Some approaches also rely on smartphone-based applications with GPS and built-in sensors for detection. Recent advancements include IoT-based systems that store and share detected road hazard data in real time for better road maintenance. However, existing solutions often face issues like limited accuracy, environmental interference, and lack of reliable real-time alerts.

2.1 SENSOR-BASED ROAD SURFACE DETECTION SYSTEMS

Sensor-based detection systems are widely used in modern road monitoring applications due to their simplicity, affordability, and real-time performance. These systems rely on sensors to detect variations in road surface conditions such as potholes, bumps, and speed breakers. The sensors continuously collect data and send it to a processing unit for analysis.

In such systems, detection is typically based on identifying sudden changes in distance, height, or vibration. These methods are more efficient than manual inspection as they reduce human effort and provide faster results. Additionally, sensor-based systems are suitable for integration into vehicles or robotic platforms, making them practical for real-world deployment. However, the accuracy of these systems depends on several factors such as sensor quality, calibration, and environmental conditions. Despite these limitations, sensor-based approaches remain one of the most preferred methods due to their cost-effectiveness and ease of implementation.

2.2 ULTRASONIC SENSOR APPLICATIONS IN OBSTACLE AND DEPTH MEASUREMENT

Ultrasonic sensors play a crucial role in measuring distance and detecting obstacles in embedded systems. These sensors operate by transmitting ultrasonic waves and calculating the time taken for the echo to return after hitting an object. This time is then converted into distance using mathematical calculations.In road hazard detection systems, ultrasonic sensors are used to measure the distance between the sensor (mounted on a vehicle or robot) and the road surface. Any sudden increase or decrease in this distance indicates the presence of a pothole or speed breaker. These sensors are highly suitable for such applications because they are low-cost, easy to interface with microcontrollers, and

provide real-time measurements. Despite their advantages, ultrasonic sensors have certain limitations. Their performance can be affected by environmental factors such as dust, moisture, temperature, and surface texture. In addition, they have a limited range and may produce inaccurate readings on uneven or reflective surfaces. Proper positioning and calibration are necessary to ensure reliable performance.

2.3 ESP32-BASED EMBEDDED SYSTEMS FOR REAL-TIME PROCESSING

The ESP32 microcontroller is a powerful and widely used embedded system component, known for its high processing speed, low power consumption, and built-in communication features such as Wi-Fi and Bluetooth. It is commonly used in IoT and real-time applications.

In this project, the ESP32 acts as the central processing unit that receives data from the ultrasonic sensor. It processes this data using programmed algorithms and compares it with predefined threshold values to detect road irregularities. Based on the analysis, it triggers alerts and controls other components such as the buzzer and motor driver.

The ESP32 also supports wireless communication, which allows the system to send data to external devices or cloud platforms. This makes it highly suitable for future enhancements involving IoT integration. Overall, the ESP32 provides flexibility, efficiency, and scalability for embedded applications.

2.4 REAL-TIME ALERT AND WARNING MECHANISMS IN SAFETY SYSTEMS

Alert systems are essential components of safety-critical applications. In road hazard detection systems, real-time alerts help drivers or users take immediate action to avoid accidents. These alerts can be generated using buzzers, LEDs, or display units. The effectiveness of an alert system depends on its response time and clarity. A fast and noticeable alert ensures that the driver can react quickly when a pothole or speed breaker is detected. Simple alert mechanisms such as buzzers are widely used because they are reliable, low-cost, and easy to implement. In advanced systems, alerts can also be sent to mobile devices or navigation systems. However, for basic embedded systems, local alert mechanisms provide sufficient functionality while maintaining simplicity and efficiency.

2.5 WIRELESS COMMUNICATION (BLUETOOTH/WI-FI) IN EMBEDDED SYSTEMS

Wireless communication plays an important role in modern embedded systems by enabling data transmission without physical connections. Technologies such as Bluetooth and Wi-Fi are commonly used for this purpose.

In this project, Bluetooth communication allows the system to send data to a mobile device or external system. This improves user interaction and enables remote monitoring. Wi-Fi can also be used to connect the system to cloud platforms for data storage and analysis.

Wireless communication enhances the functionality of the system by making it more flexible and scalable. It also supports future integration with IoT-based applications, where data can be shared across multiple platforms for better decision-making.

2.6 ROBOTIC PLATFORMS FOR ROAD CONDITION MONITORING

Robotic platforms are increasingly used in research and development for testing road monitoring systems. These platforms allow sensors and electronic components to be mounted on a movable structure, enabling data collection from different locations.

In this project, the robotic platform helps simulate real-world conditions by moving across different road surfaces. It allows the system to detect potholes and speed breakers dynamically, rather than in a fixed position. This improves the effectiveness and practicality of the system.

Robotic systems offer advantages such as flexibility, automation, and ease of testing. However, they also require proper control mechanisms and power management to ensure smooth operation.

2.7 CHALLENGES IN SENSOR-BASED ROAD HAZARD DETECTION SYSTEMS

Although sensor-based systems are effective, they face several challenges. One major issue is the influence of environmental conditions such as dust, water, and vibrations, which can affect sensor accuracy. Variations in vehicle speed can also impact detection performance.

Another challenge is the selection of appropriate threshold values for detection. Incorrect thresholds may lead to false alerts or missed detections. Additionally, hardware limitations such as sensor range and processing capability can affect system performance.

To overcome these challenges, proper calibration, filtering techniques, and system optimization are required. Continuous testing and improvement can help enhance the reliability of the system.

2.8 SUMMARY OF EXISTING SYSTEMS AND RESEARCH GAP

The literature survey highlights that sensor-based systems using ultrasonic sensors and microcontrollers are effective for detecting potholes and speed breakers. These systems provide real-time detection and are cost-efficient, making them suitable for practical applications.

However, existing systems often face issues such as limited accuracy, environmental sensitivity, and lack of efficient alert mechanisms. Some systems also lack integration with communication technologies, which limits their usability.

The proposed project addresses these gaps by combining sensor-based detection with real-time alert generation and wireless communication. It provides a simple, efficient, and scalable solution that can be further enhanced with advanced technologies such as IoT and machine learning.

3.REQUIREMENTS SPECIFICATION

This chapter gives an overview of the software and hardware components required for our project.

3.1 SOFTWARE REQUIREMENTS

- **Development Environment:** Tools like Arduino IDE or other microcontroller programming platforms are required to write, compile, and upload code to the hardware.

- **Data Processing Software:** Algorithms are implemented in software to analyze data from accelerometers and ultrasonic sensors to identify potholes and speed breakers accurately.

- **GPS Libraries:** Software libraries are required to read and process GPS data, including latitude and longitude coordinates.

- **Database/Cloud Platform:** Cloud services such as Firebase or ThingSpeak can be used to store collected data and allow remote access and monitoring.

- **Mobile or Web Application :** A user interface may be developed to display alerts, road condition data, and maps for better user interaction.

- **Programming Languages**: Languages such as Embedded C, C/C++, or Python are used to write the code for processing sensor inputs and controlling system operations. Embedded C is commonly used for microcontroller-based systems.

- **Operating System:** A computer with Windows, Linux, or macOS is required for software development and testing.

3.2 HARDWARE REQUIREMENTS

The hardware components are responsible for detecting and collecting real-time data from

- Microcontroller (e.g., Arduino Uno, NodeMCU)
- Accelerometer sensor (for detecting vibrations and potholes)
- Ultrasonic sensor (for detecting speed breakers or obstacles)
- GPS module (for location tracking)
- Buzzer or display unit (for alerting the driver)
- Power supply (battery or vehicle power source)

- Connecting wires and supporting components

3.3 FUNCTIONAL REQUIREMENTS

Functional requirements describe the specific operations that the system must perform:

- The system should continuously monitor road conditions using sensors.
- It must detect potholes based on sudden changes in acceleration and vibration levels.
- It should identify speed breakers using distance measurement from the ultrasonic sensor.
- The system must process sensor data in real time to ensure quick detection.
- It should generate immediate alerts (audio/visual) to warn the driver.
- The system should capture GPS coordinates of detected hazards.
- It may store detected data locally or on a cloud server for future analysis.
- It should operate automatically without requiring manual input from the user.
- The system should be able to function while the vehicle is in motion without affecting performance.

3.4 NON-FUNCTIONAL REQUIREMENTS

Non-functional requirements define system performance and quality:

- **Accuracy:** The system should detect road anomalies with high precision
- **Reliability:** It should work consistently under different road and weather conditions
- **Efficiency:** The system must process data quickly and provide instant alerts
- **Cost-effectiveness:** The solution should be affordable and easy to implement
- **Scalability:** It should allow future upgrades and expansion
- **Security:** Data collected (especially GPS data) must be protected
- **Usability:** The system should be simple and user-friendly

4. SYSTEM DESIGN

4.1 System Design

The **Pothole and Speed Breaker Detection and Alert System** is designed to detect road irregularities in real time and alert the driver. The system combines sensors, a microcontroller, and communication modules to perform detection, processing, and alerting efficiently. The system is built using a combination of hardware and software components. Sensors are used to monitor road conditions, and a microcontroller processes the collected data. Based on the analysis, the system identifies potholes and speed breakers and immediately alerts the driver. Additionally, GPS is used to record the exact location of detected hazards.

There are two kinds of design documents developed in this phase:

1. Architecture Overview

Frontend (Client Side):

The frontend is the user interface through which the driver interacts with the system. It can be a mobile app or display unit.

- Displays alerts (buzzer, LED, or screen)
- Shows detected potholes or speed breakers
- May display GPS location and map (if app is used)
- Simple and user-friendly interface

Backend (Server Side):

The backend handles data processing and storage (if IoT is used).

Receives data from the system

Processes and stores road condition data

Sends updates or notifications (optional)

Helps authorities monitor road conditions

Database:

The database is an important part of the Pothole and Speed Breaker Detection and Alert System, as it is used to store, manage, and analyze the data collected from the system. It helps in keeping a proper record of road conditions and supports better decision-making for road maintenance.

The system stores different types of data such as GPS location (latitude and longitude) of detected potholes and speed breakers, type of hazard (pothole or speed breaker), time and date of detection, and optionally sensor data. This information helps in identifying high-risk areas and frequently damaged roads.

The database performs several key functions. It stores all detected data safely, allows easy retrieval of information when needed, and supports analysis of road conditions. Authorities or users can use this data to generate reports and plan maintenance activities more effectively.

There are two types of databases that can be used in this system. A cloud database (such as Firebase or ThingSpeak) allows real-time data access and remote monitoring, while a local database stores data within the device for offline use.

Using a database provides many advantages. It helps in long-term monitoring of road conditions, improves system performance through data analysis, and supports smart city applications. It also makes the system more efficient and useful for both drivers and authorities. The database enhances the overall functionality of the system by enabling data storage, analysis, and sharing, which ultimately contributes to improved road safety and maintenance.

4.2 PROPOSED METHODOLOGY

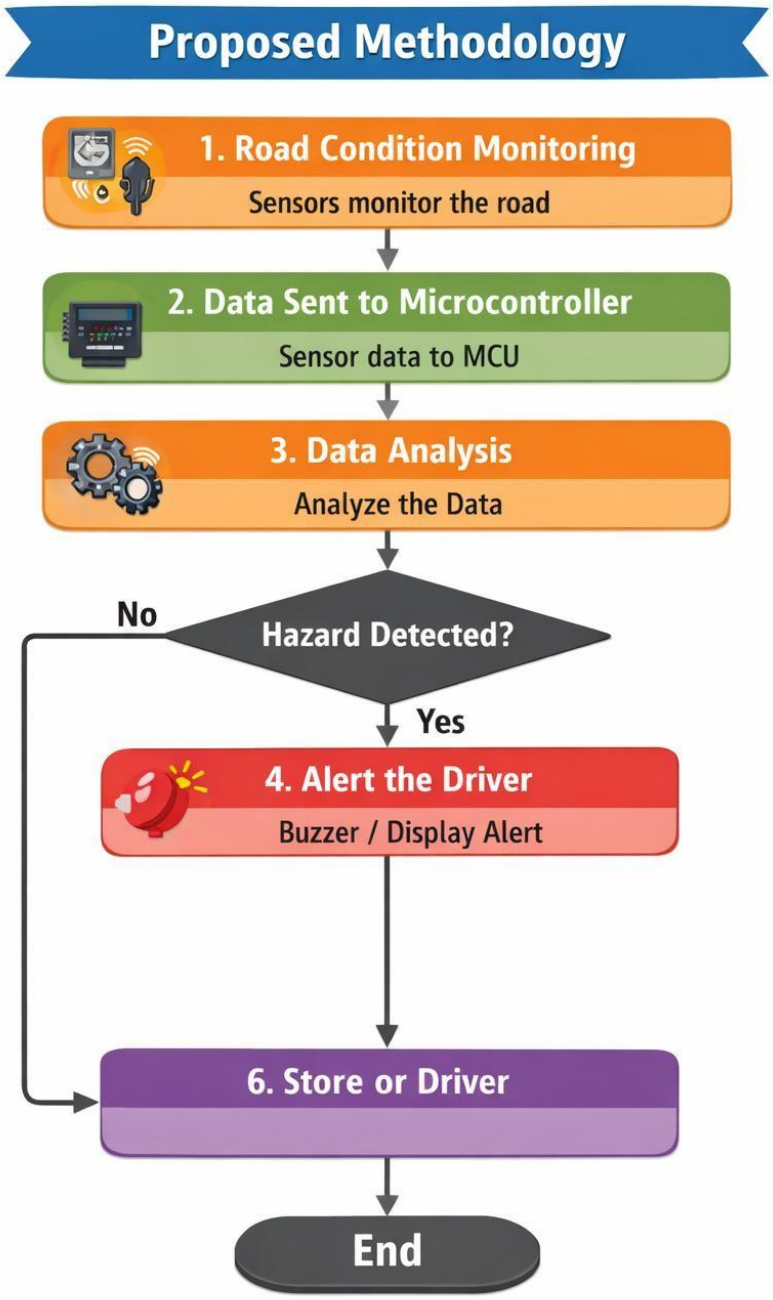

4.3 UML DESIGN

Unified Modeling Language (UML) is used to design the structure and behavior of the Pothole and Speed Breaker Detection and Alert System .The following diagrams help in visualizing the components and their interactions within the system.

4.3.1 CLASS DIAGRAM

- The Class Diagram describes the structural design of the system by representing different classes, their attributes, methods, and relationships.
- The central component of the system is the ESP-32 microcontroller, which processes sensor data and controls system operations.
- The Ultrasonic Sensor class is responsible for measuring the distance between the vehicle and the road surface.

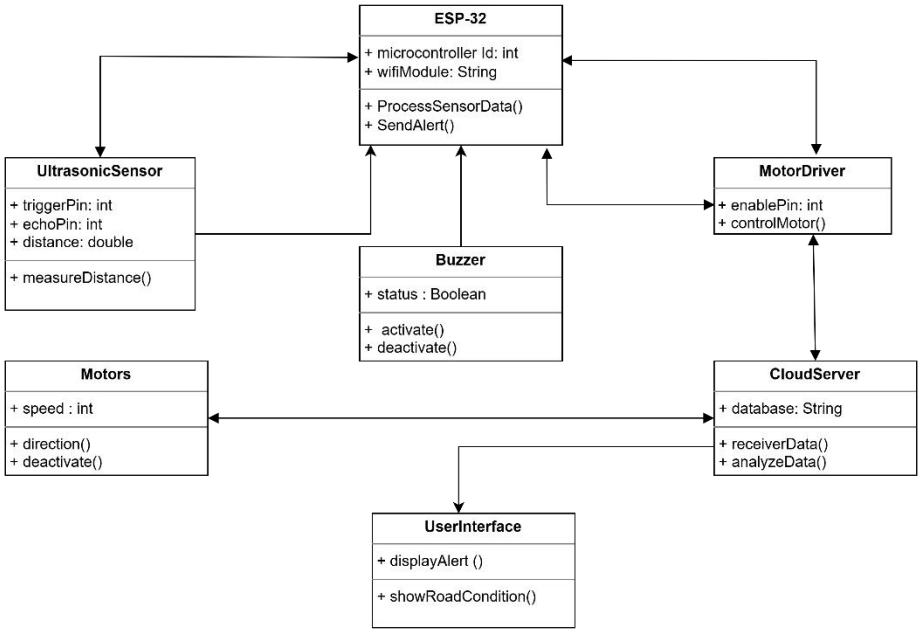

Fig 4.3.1: Class diagram

- The Buzzer class is used to alert the driver when a hazard is detected. The Cloud Server class stores and analyzes the collected data, while the User Interface class displays alerts and road condition information to the user.

4.3.2 USE CASE DIAGRAM

The use case diagram outlines the interactions between users and the system. It captures the main functionality of the platform, such as:

- The Use Case Diagram represents the interaction between users and the system. In this project, the main actors involved are the Driver and the Admin.
- The system performs several important functions such as detecting potholes and speed breakers using sensors, measuring the distance from the road surface through an ultrasonic sensor, and sending alerts to the driver using a buzzer or mobile application.

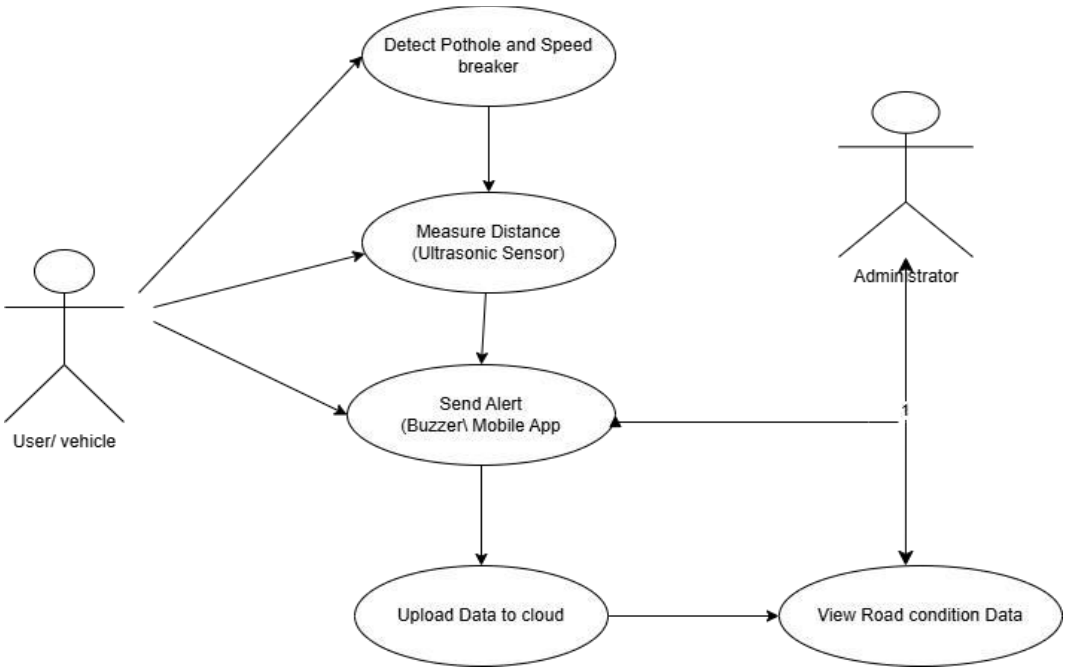

Fig 4.3.2 : Use Case Diagram

- Additionally, the system uploads collected data to the cloud, where it can be stored and analyzed. The admin can access this data to view road conditions and identify areas that require maintenance. Overall, the use case diagram highlights how the system interacts with users and fulfills its intended purpose.

4.3.3 COMPONENT DIAGRAM

- Shows the overall structure of the system and interaction between components
- Ultrasonic Sensor measures distance from the road surface
- Sensor sends data to ESP-32 Microcontroller
- ESP-32 processes data and detects potholes/speed breakers
- If hazard detected → activates Buzzer for alert
- Motor Driver receives signals from ESP-32
- Motors move the robot based on driver commands
- All components work together for detection and alert system

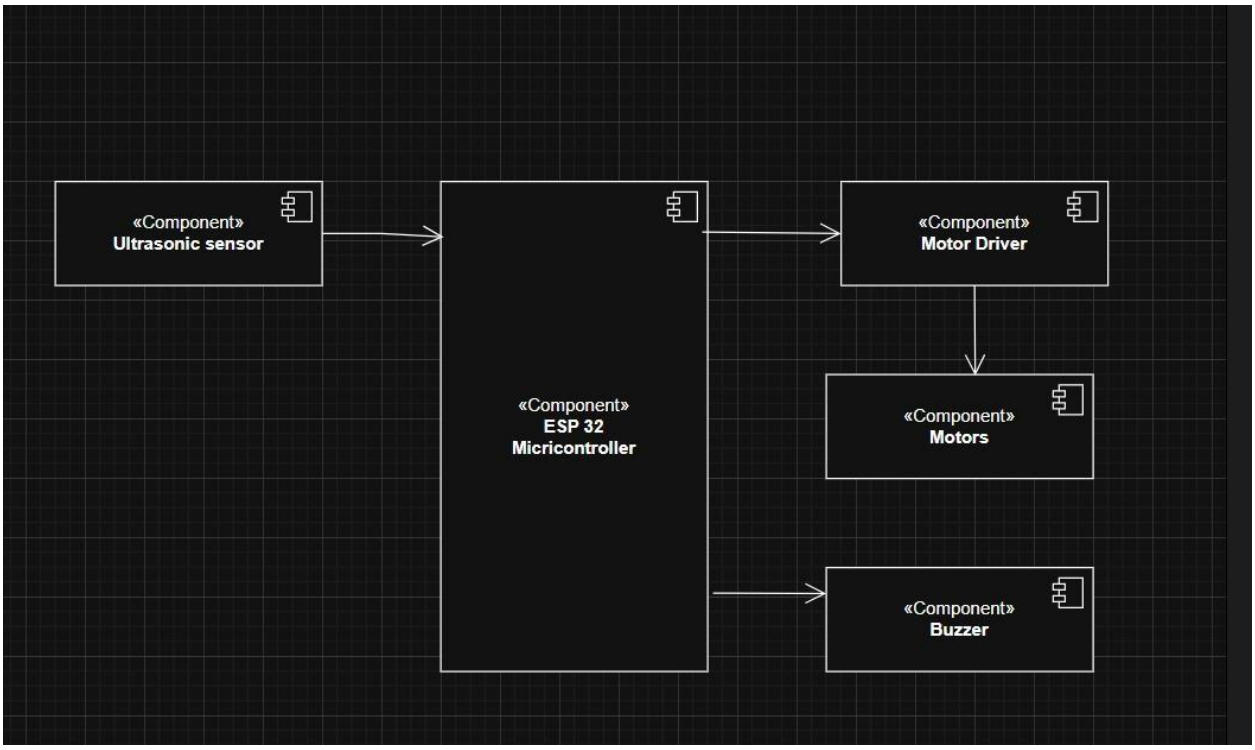

Fig 4.3.3: component diagram

4.3.4 SEQUENCE DIAGRAM

- The sequence diagram outlines the flow of interactions between system components when a user interacts with the platform. For example:
- The Sequence Diagram shows the interaction between different components of the system over time. The main participants include the Driver, Sensor Node, Alert System, Cloud Server, and Admin.
- The cloud server stores and analyzes the data, making it available for monitoring. If a hazard is detected, an alert is sent to the driver through the alert system, typically using a buzzer or display.

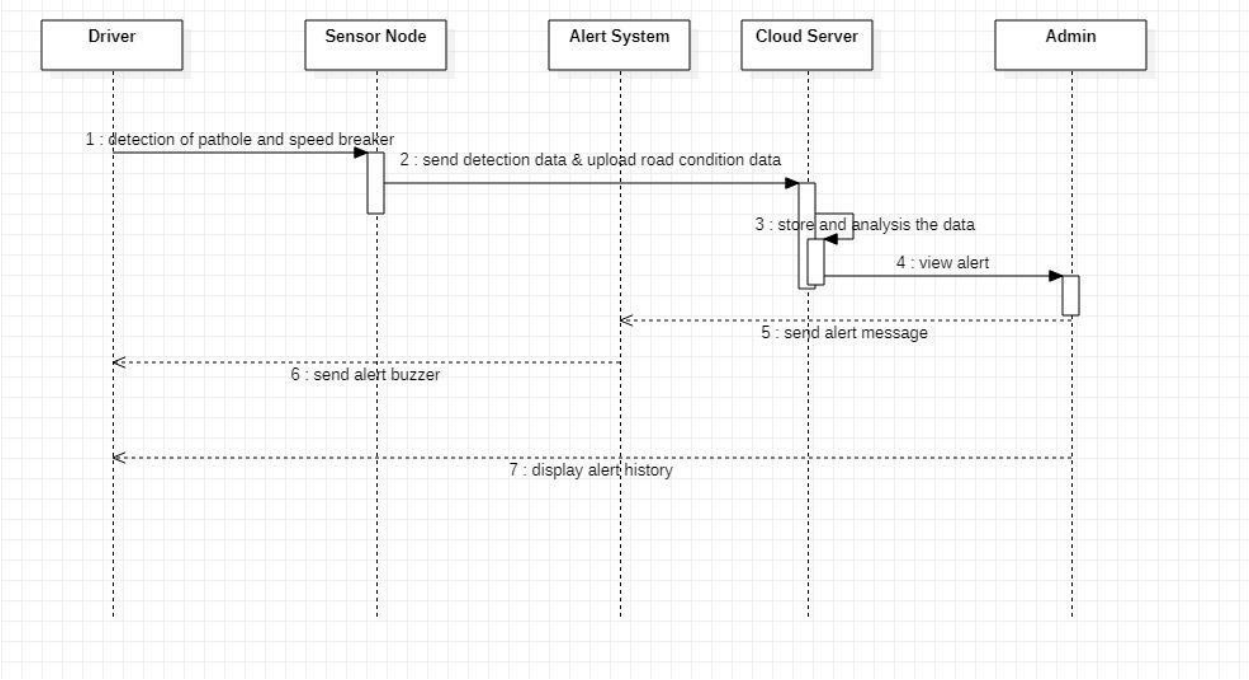

Fig 4.3.5: Sequence Diagram

- Additionally, the admin can access the cloud server to view stored data and analyze road conditions. The sequence diagram clearly represents the order of communication between system components and helps in understanding the real-time functioning of the system.

4.3.5 ACTIVITY DIAGRAM

- The Activity Diagram illustrates the workflow and operational sequence of the system. The process begins with monitoring road conditions using sensors.
- The collected data is then transmitted to the microcontroller, where it is analyzed to detect any road irregularities.
- A decision point is included to check whether a hazard is detected. This decision is based on a Boolean condition. If a pothole or speed breaker is detected, the system generates an alert using a buzzer or display.

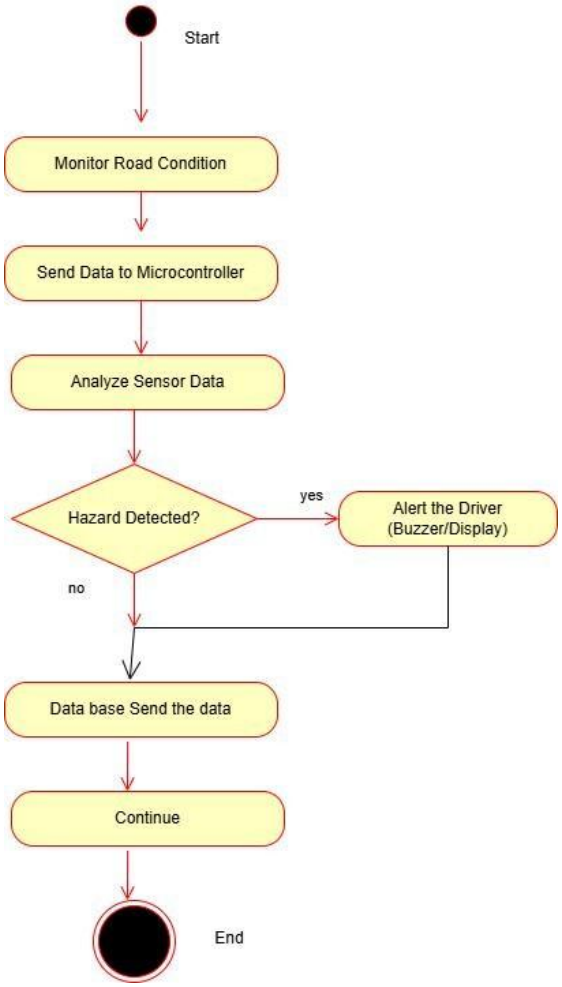

Fig 4.3.6: Activity Diagram

- If no hazard is detected, the system continues monitoring the road without interruption. The detected data is then stored in a database or sent to the cloud for future reference.

4.4 Technology Description

The proposed pothole and speed breaker detection and alert system is developed using a combination of hardware and software technologies to ensure accurate detection and real-time alerts. The system integrates embedded systems, sensors, communication modules, and cloud technologies.

The core component of the system is the ESP-32 microcontroller, which is responsible for processing sensor data and controlling the overall operation of the system. It has built-in Wi-Fi capability, which enables the system to send data to the cloud for storage and analysis.

An ultrasonic sensor is used to measure the distance between the vehicle and the road surface. Based on the variation in distance, the system detects potholes and speed breakers. The sensor provides accurate and real-time data, which is processed by the microcontroller.

A buzzer or alert system is used to notify the driver when a hazard is detected. This ensures that the driver can take immediate action and avoid accidents. In some implementations, a mobile application or display unit can also be used for alerts.

For data storage and monitoring, **cloud platforms** such as Firebase or ThingSpeak can be used. These platforms allow real-time data uploading, storage, and analysis. The stored data can be accessed by administrators to monitor road conditions and plan maintenance activities.

The system may also include a **user interface**, such as a mobile app or dashboard, which displays alerts and road condition data. This enhances usability and provides better interaction with the system.

5. IMPLEMENTATION

5.1 IMPLEMENTATION

The implementation of the **Pothole and Speed Breaker Detection and Alert System** involves the integration of hardware components and software programming to achieve real-time detection and alert functionality. The system is built using an ESP-32 microcontroller, ultrasonic sensor, buzzer, and optional cloud connectivity.

Initially, all hardware components are properly connected. The ultrasonic sensor is mounted in such a way that it continuously measures the distance between the vehicle and the road surface. The sensor sends this data to the ESP-32 microcontroller. The microcontroller is programmed using embedded C/C++ (Arduino IDE) to process the incoming sensor data.

The system continuously monitors the road conditions. When a sudden change in distance is detected, the microcontroller compares it with predefined threshold values to identify whether it is a pothole or a speed breaker. If a hazard is detected, the system immediately activates the buzzer or alert system to warn the driver.

If internet connectivity is enabled, the ESP-32 sends the detected data (such as location and type of hazard) to a cloud server. This allows the data to be stored and accessed later for analysis. The implementation ensures real-time performance, accuracy, and reliability.

5.2 MODULES:

The system is divided into several functional modules to simplify design and implementation:

1. Sensor Module

This module consists of the ultrasonic sensor, which measures the distance between the vehicle and the road surface. It continuously collects data required for detecting road irregularities.

2. Processing Module

The ESP-32 microcontroller acts as the processing unit. It receives sensor data, processes it, and determines whether a pothole or speed breaker is present based on threshold values.

3. Alert Module

This module includes a buzzer or display system. When a hazard is detected, it generates an alert to inform the driver in real time.

4. Communication Module (Optional)

This module uses the Wi-Fi capability of ESP-32 to send data to a cloud server. It enables remote monitoring and data sharing.

5. Data Storage Module

This module stores the detected data either locally or on a cloud platform such as Firebase or ThingSpeak. It helps in future analysis and reporting.

6. User Interface Module (Optional)

A mobile app or dashboard can be used to display alerts and road condition data for better user interaction.

5.3 EXECUTABLE CODE

```
#include<BluetoothSerial.h>
BluetoothSerial bt;
String data=" ";
```

```
#define       trig       18
#define echo 19
long distance,duration;
#define buzzer 5

#define m1 33
#define m2 32
#define       m3       25
#define m4 26

void setup()
{
  Serial.begin(9600);
  bt.begin("PATH HOLE DETECTION ROBOT");

  pinMode(2,OUTPUT);
  digitalWrite(2,LOW);

  pinMode(trig,OUTPUT);
  pinMode(echo,INPUT);

  pinMode(buzzer,OUTPUT);
  digitalWrite(buzzer,LOW);
```

```
  pinMode(m1,OUTPUT);
  pinMode(m2,OUTPUT);
  pinMode(m3,OUTPUT);
  pinMode(m4,OUTPUT);


  digitalWrite(m1,LOW);
  digitalWrite(m2,LOW);
  digitalWrite(m3,LOW);
  digitalWrite(m4,LOW);
}        void
loop()
{
  digitalWrite(trig,LOW);
  delayMicroseconds(2);
  digitalWrite(trig,HIGH);
  delayMicroseconds(10);
  digitalWrite(trig,LOW);
  duration=pulseIn(echo,HIGH);
  distance=duration*0.0342/2;
  Serial.print("DISTANCE : ");Serial.println(distance);
  bt.print("DISTANCE : ");bt.print(distance);bt.println(" "); delay(100);

  if(distance >= 1195 && distance <= 1205)
  {
    digitalWrite(buzzer,LOW);
```

```
}
else
{
  digitalWrite(buzzer,HIGH);
}

if(bt.available()>0)
{    data="
  ";
  data=bt.readString();
  Serial.print("data : ");Serial.println(data);
}

if(data=="FORWARD" || data=="Forward" || data=="forward")
{
  forward(); } else if(data=="BACKWARD" || data=="Backward" ||
data=="backward")
{ backward(); } else if(data=="LEFT" ||
data=="Left" || data=="left")
{
  left();
}     else     if(data=="RIGHT"     ||     data=="Right"     ||
data=="right")
{
```

```
  right();
 }    else    if(data=="STOP"    ||    data=="Stop"    ||
 data=="stop")
 {
  stop();
 }

 digitalWrite(2,HIGH);delay(100);digitalWrite(2,LOW);delay(100);
}            void
forward()
{
 digitalWrite(m1,HIGH);
 digitalWrite(m2,LOW);
 digitalWrite(m3,HIGH);
 digitalWrite(m4,LOW);
}              void
backward()
{ digitalWrite(m1,LOW);
 digitalWrite(m2,HIGH);
 digitalWrite(m3,LOW);
 digitalWrite(m4,HIGH);
}
void right()
{
```

```
  digitalWrite(m1,HIGH);
  digitalWrite(m2,LOW);
  digitalWrite(m3,LOW);
  digitalWrite(m4,LOW);
}
void left()
{ digitalWrite(m1,LOW);
  digitalWrite(m2,LOW);
  digitalWrite(m3,HIGH);
  digitalWrite(m4,LOW);
}        void
stop()
{
  digitalWrite(m1,LOW);
  digitalWrite(m2,LOW);
  digitalWrite(m3,LOW);
  digitalWrite(m4,LOW);
}
```

For all code and files Reference : https://github.com/shanku11/Gruhjeevandeep

6. TESTING

6.1 TESTING DEFINITION:

Testing is a systematic process of evaluating a system to ensure that it functions correctly, efficiently, and according to the specified requirements. It involves checking all components of the system, identifying errors or defects, and verifying that the system produces the expected output under different conditions.

In the Pothole and Speed Breaker Detection and Alert System, testing plays a crucial role in ensuring that the system accurately detects road irregularities and provides timely alerts to the driver. The testing process includes validating the performance of sensors, the accuracy of data processing by the microcontroller, and the effectiveness of the alert mechanism.

Unit Testing

Unit testing is the process of testing individual components of the system separately. Each part of the system is checked to ensure it performs its function correctly.

In this project:

- Ultrasonic sensor is tested to measure accurate distance
- Buzzer is tested for proper alert generation
- Microcontroller is tested for correct code execution

This helps in identifying errors at the component level.

Integration Testing

Integration testing checks how different components of the system work together. It ensures proper communication between hardware and software modules.

In this project:

- Sensor data is sent to the microcontroller
- Microcontroller processes data and triggers buzzer All components are

  tested as a combined system

  This ensures smooth interaction between modules.

System Testing

System testing evaluates the complete system as a whole. It checks whether the system meets all functional requirements.

In this project:

- Detection of potholes and speed breakers is verified
- Alert system is tested in real-time
- Overall system performance is checked

This ensures the system works as expected.

Different testing methods such as **unit testing, integration testing, system testing, and field testing** are used to thoroughly evaluate the system. Through proper testing, the reliability, accuracy, and performance of the system are ensured before deployment.

Field Testing (Real-Time Testing)

Field testing is performed in real-world conditions to check the practical performance of the system.

In this project:

- System is tested on actual roads
- Performance is checked at different speeds
- Environmental conditions like vibration and uneven surfaces are considered

This ensures reliability in real-life situations.

Additionally, testing helps in improving the overall quality of the system by reducing errors, increasing efficiency, and ensuring safety. It also verifies that the system meets user requirements and performs well under both normal and extreme conditions.

Performance Testing

Performance testing checks the speed, accuracy, and efficiency of the system.

In this project:

- Time taken to detect hazard and give alert
- Accuracy of sensor readings
- System response time

This ensures fast and efficient operation.

Reliability Testing

Reliability testing ensures that the system works continuously without failure.

In this project:

- System is tested for long-duration operation
- Checks if system crashes or stops unexpectedly

This ensures stability of the system.

In the **Pothole and Speed Breaker Detection and Alert System**, testing plays a crucial role in ensuring that the system accurately detects road irregularities and provides timely alerts to the driver. The testing process includes validating the performance of sensors, the accuracy of data processing by the microcontroller, and the effectiveness of the alert mechanism.

The system is tested under various real-world conditions such as different road surfaces, vehicle speeds, and environmental factors like dust and vibrations. This helps to ensure that the system remains reliable and performs consistently in practical situations.

Testing also ensures that:

- The ultrasonic sensor measures distance accurately
- The microcontroller processes data correctly
- The system correctly identifies potholes and speed breakers
- Alerts are generated without delay
- The system operates continuously without failure

6.2 Test Cases

Test cases are designed to thoroughly evaluate the performance, accuracy, reliability, and robustness of the Pothole and Speed Breaker Detection and Alert System. These tests simulate both normal and extreme conditions to ensure the system behaves correctly in real-world scenarios.

Each test case is validated based on parameters such as sensor accuracy, response time, detection threshold, system stability, and environmental impact.

Test Case 1: Pothole Detection under Different Depths

- Objective: To verify detection accuracy for potholes of varying depths
- Input: Shallow, medium, and deep potholes

- Analysis:
    - Shallow potholes may produce minor variation in sensor readings
    - Deep potholes produce significant distance variation
- Expected Output:
    - System should detect medium and deep potholes accurately ○ May ignore very small variations (to avoid false positives)
- Result: System detects major potholes effectively
- Observation: Threshold tuning is important for accuracy

Test Case 2: Speed Breaker Detection at Different Speeds

- Objective: To test system performance at different vehicle speeds
- Input: Low speed, medium speed, high speed □ Analysis:
    - At high speed, detection time reduces ○ Sensor response must be fast enough
- Expected Output:
    - System should detect speed breakers and alert in time
- Result: Works well at low/medium speed; slight delay at high speed
- Observation: Real-time processing is critical

Test Case 3: Environmental Condition Testing

- Objective: To check system performance under environmental disturbances
- Input: Dust, vibration, uneven surfaces, noise

- Analysis: ○ Environmental noise can affect sensor readings
- Expected Output:
  - ○ System should filter minor disturbances
- Result: System performs reliably with minimal errors
- Observation: Filtering algorithms improve performance

Test Case 4: Response Time Measurement

- Objective: To measure how quickly the system reacts
- Input: Sudden pothole or speed breaker
- Analysis: ○ Time between detection and alert is measured
- Expected Output:
  - ○ Alert should be generated instantly (within milliseconds)
- Result: Fast response observed
- Observation: ESP-32 ensures quick processing

Test Case 5: Threshold Value Testing

- Objective: To validate correct threshold settings
- Input: Different threshold values in code
- Analysis:
  - ○ Low threshold → false alerts ○ High threshold → missed detection
- Expected Output:

- Optimal threshold should balance accuracy and reliability

- Result: Proper threshold gives best performance
- Observation: Calibration is necessary

Test Case 6: Power Supply Stability Test

- Objective: To ensure system works under power variations
- Input: Fluctuating or low power supply
- Expected Output:
  - System should continue functioning without reset
- Result: Stable operation observed
- Observation: Proper power regulation required

Test Case 7: Long Duration Testing (Stress Test)

- Objective: To evaluate system stability over time
- Input: Continuous operation for long duration Analysis: o Checks for overheating or system failure
- Expected Output:
  - No crash or performance degradation
- Result: System works continuously
- Observation: Reliable for long-term use

Test Case 8: Data Accuracy and Consistency Test

- Objective: To verify consistency of sensor readings Input: Repeated measurements on same road condition
- Expected Output:
    - Similar readings each time
- Result: Consistent data observed
- Observation: System is stable and reliable

Test Case 9: Alert Effectiveness Test

- Objective: To check if alert is noticeable and useful
- Input: Hazard detection
- Expected Output:
    - Buzzer should be loud and clear

Result: Alert is effective

- Observation: Helps driver react quickly

Test Case 10: Failure Handling Test

- Objective: To check system behavior during failure
- Input: Sensor disconnection or malfunction
- Expected Output:
    - System should handle error gracefully
- Result: Needs improvement (if no error handling)
- Observation: Error handling can be added

Performance Evaluation Summary

- Accuracy: High for major potholes and speed breakers
- Response Time: Fast and suitable for real-time application
- Reliability: Works continuously without failure
- Limitations:
    - Minor false detection possible
    - High-speed detection needs optimization
- The extended testing confirms that the system is efficient, reliable, and suitable for realtime road monitoring. With proper calibration and optimization, the system can be further improved for higher accuracy and performance.

7. RESULTS



Fig 7.1.1 Top view

Fig 7.1.2 Pothole detection



Fig 7.1.3 Side view

The device found the pothole and speed breaker . The pothole and speed breaker detection is now achieved successfully with very decent accuracy.

8. CONCLUSION

The Path Hole Detection Robot developed in this project presents an efficient and practical solution for identifying road hazards such as potholes and speed breakers. The system integrates key technologies including the ESP32 microcontroller, ultrasonic sensors, Bluetooth communication, and a robotic platform to perform real-time detection and alert generation. By continuously monitoring road conditions and analyzing sensor data, the system is capable of detecting irregularities accurately and providing timely warnings, thereby enhancing road safety.

One of the major advantages of this system is its **cost-effectiveness and simplicity**, which makes it suitable for large-scale deployment. The use of easily available components ensures that the system can be implemented without requiring complex infrastructure. Additionally, the robotic platform allows flexible movement and testing in different environments, making it highly adaptable for both urban and rural areas.

The system can be widely used in **road inspection, maintenance planning, and smart transportation systems**. Government authorities and municipal corporations can utilize the collected data to identify damaged road sections and prioritize repair work. This can significantly reduce accidents, vehicle damage, and maintenance costs while improving overall road quality.

Furthermore, the integration of Bluetooth communication enables wireless data transfer, which enhances usability and allows remote monitoring. The system also has the potential to be integrated into smart city frameworks, where real-time road condition data can be shared across platforms for better decision-making.

Despite its advantages, the system has certain limitations such as sensitivity to environmental conditions and dependence on proper calibration of sensors. However, these limitations can be addressed through further improvements and advanced technologies.

9. FUTURE SCOPE

The **Pothole and Speed Breaker Detection System** has significant potential for further improvement and real-world applications. Although the current system provides reliable detection and alert functionality, several enhancements can be made to increase its efficiency, accuracy, and usability.

One of the major future improvements is the integration of a **GPS module** to provide exact location details of detected potholes and speed breakers. This will help in mapping hazardous areas and assist authorities in identifying and repairing damaged roads more efficiently.

Another important enhancement is the use of **IoT (Internet of Things) technology**. By connecting the system to a cloud platform, real-time data can be stored, analyzed, and shared with government agencies. This will enable the development of smart road monitoring systems and support smart city initiatives.

In future, the use of **advanced sensors and sensor fusion techniques** (combining accelerometer, camera, and ultrasonic sensors) can improve detection accuracy and reduce false alerts. Additionally, incorporating **machine learning algorithms** can help the system learn from past data and make more intelligent decisions.

The system can be further developed into an **automated vehicle-based system**, where it is installed directly in vehicles to provide continuous monitoring without the need for a separate robotic platform.

Other possible improvements include:

- Integration with **vehicle navigation systems**
- Development of **real-time road condition maps**
- Use of **solar power** for energy efficiency
- Implementation of **wireless communication technologies** like GSM or 5G

10. REFERENCES

1. Mohan, P., Padmanabhan, V. N., & Ramjee, R., "Nericell: Rich Monitoring of Road and Traffic Conditions Using Mobile Smartphones," *ACM SenSys*, 2008.

2. Eriksson, J., Girod, L., Hull, B., Newton, R., Madden, S., & Balakrishnan, H., "The Pothole Patrol: Using a Mobile Sensor Network for Road Surface Monitoring," *ACM MobiSys*, 2008.

3. Espressif Systems, "ESP32 Technical Reference Manual," 2020.

4. Patil, S., & Deshmukh, R., "Pothole Detection System Using Ultrasonic Sensors," *International Journal of Engineering Research and Technology (IJERT)*, vol. 6, no. 5, 2017.

5. Bluetooth SIG, "Bluetooth Core Specification," Version 5.0, 2019.

6. HC-SR04 Ultrasonic Sensor Datasheet, 2018.

7. Kumar, A., & Singh, R., "Bluetooth Controlled Robot for Road Safety Applications," *International Journal of Advanced Research in Electrical, Electronics and Instrumentation Engineering*, vol. 5, no. 4, 2016.